Printed from JeppView for Windows 5.3.0.0 on 04 Oct 2025; Terminal chart data cycle 12-2025 (Expired); Notice: After 19 Jun 2025, 0000Z, this chart may no longer be valid

# OMDB/DXB
## DUBAI INTL

JEPPESEN

11 APR 25 (11-1) Eff 17 Apr

# DUBAI, UAE
## ❶ ILS Rwy 12L

BRIEFING STRIP™

| D-ATIS Arrival | MINHAD Approach | DUBAI Arrivals | DUBAI Director | DUBAI Tower North | DUBAI Tower South | Ground |
|---|---|---|---|---|---|---|
| 126.275 | 122.5 | 124.9 | 127.9X | 118.750 | 119.550 | 118.350 |

| LOC IDBL | Final Apch Crs | DB612 MANDATORY | ILS DA(H) Refer to Minimums | Apt Elev 62′ Rwy 12′ |
|---|---|---|---|---|
| 110.1 | 119° | 2000′ (1988′) | | |

**MISSED APCH:** Climb direct to DB611, then on track 104° to TALTU, hold at 3000′. Refer to minimums for missed apch climb gradients.

Alt Set: hPa  Rwy Elev: 0 hPa  Trans level: FL150  Trans alt: 13000′

1. RNAV 1 required for initial, intermediate and missed apch transitions. 2. CAUTION: Independent Parallel Departures on RWY 12R. 3. ILS DME reads zero at TDZ. 4. CIRCLE-TO-LAND: N/A.

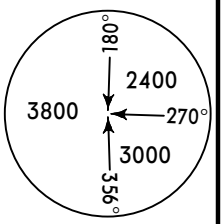


MSA ARP

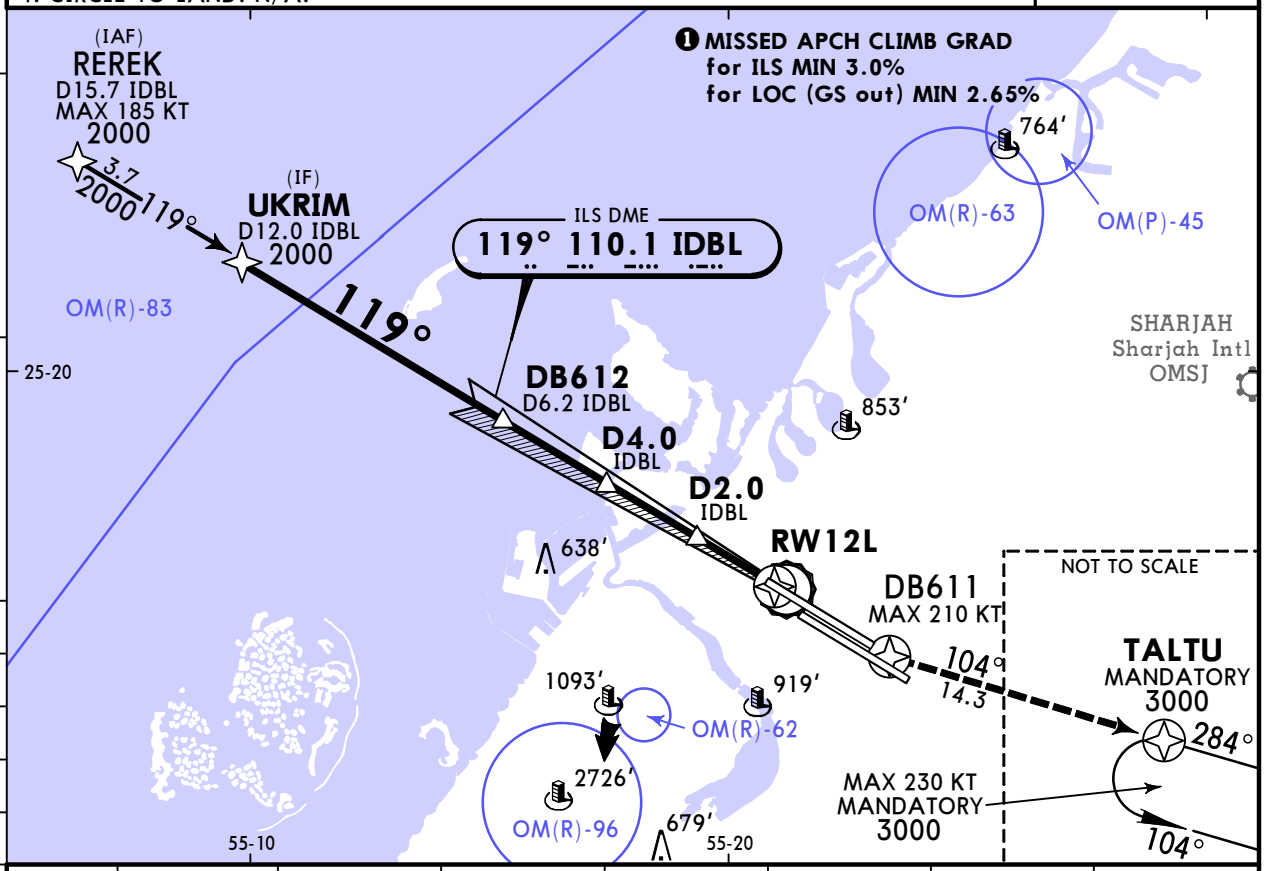


| LOC (GS out) | IDBL DME | 6.2 | 5.2 | 4.2 | 3.2 | 2.2 | 1.2 |
|---|---|---|---|---|---|---|---|
| | ALTITUDE | 1970′ | 1650′ | 1330′ | 1020′ | 710′ | 400′ |

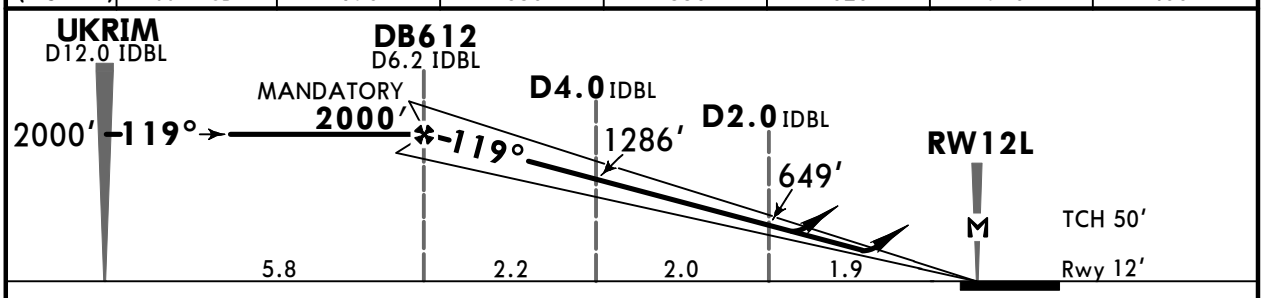


| Gnd speed-Kts | | 70 | 90 | 100 | 120 | 140 | 160 |
|---|---|---|---|---|---|---|---|
| GS | 3.00° | 372 | 478 | 531 | 637 | 743 | 849 |
| MAP at RW12L | | | | | | | |

HIALS-II
REIL PAPI PAPI

D → DB611 TALTU on 104°

**Std/State** STRAIGHT-IN LANDING

**ILS**
Missed apch climb gradient MIN 3.0%
DA(H) ABC: **212′** (200′) D: **223′** (211′)

**LOC (GS out)**
Missed apch climb gradient MIN 2.65%
CDFA
❷ DA/MDA(H) **480′** (468′)

PANS OPS

| | FULL | TDZ or CL out | ALS out | | ALS out |
|---|---|---|---|---|---|
| A, B | R550m | ❶ R550m | R1200m | R1500m | |
| C, D | | | | R1500m | R2200m |

❶ R750m when a Flight Director or Autopilot or HUD to DA is not used.
❷ VNAV DA(H) in lieu of MDA(H) depends on operator policy.

CHANGES: OM(D)-10 withdrawn, TALTU and holding at TALTU restrictions.

© JEPPESEN, 2000, 2025. ALL RIGHTS RESERVED.

Printed from JeppView for Windows 5.3.0.0 on 04 Oct 2025; Terminal chart data cycle 12-2025 (Expired); Notice: After 19 Jun 2025, 0000Z, this chart may no longer be valid

# OMDB/DXB
## DUBAI INTL

JEPPESEN

11 APR 25
Eff 17 Apr
(11-1A)

# DUBAI, UAE
## ❶CAT II/III ILS Rwy 12L

BRIEFING STRIP™

| D-ATIS Arrival | MINHAD Approach | DUBAI Arrivals | DUBAI Director | DUBAI Tower North | DUBAI Tower South | Ground |
|---|---|---|---|---|---|---|
| 126.275 | 122.5 | 124.9 | 127.9X | 118.750 | 119.550 | 118.350 |

| LOC IDBL | Final Apch Crs | DB612 MANDATORY | CAT IIIB, IIIA & II ILS Refer to Minimums | Apt Elev 62′ Rwy 12′ |
|---|---|---|---|---|
| 110.1 | 119° | 2000′(1988′) | | |

**MISSED APCH:** Climb direct to DB611, then on track 104° to TALTU, hold at 3000′. Missed apch requires a minimum climb gradient of 3.0%.

Alt Set: hPa  Rwy Elev: 0 hPa  Trans level: FL150  Trans alt: 13000′

1. RNAV 1 required for initial, intermediate and missed apch transitions. 2. Special Aircrew & Aircraft Certification Required. 3. CAUTION: Independent Parallel Departures on RWY 12R. 4. ILS DME reads zero at TDZ.

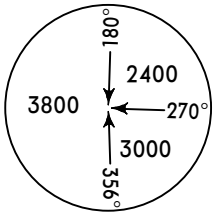

MSA ARP

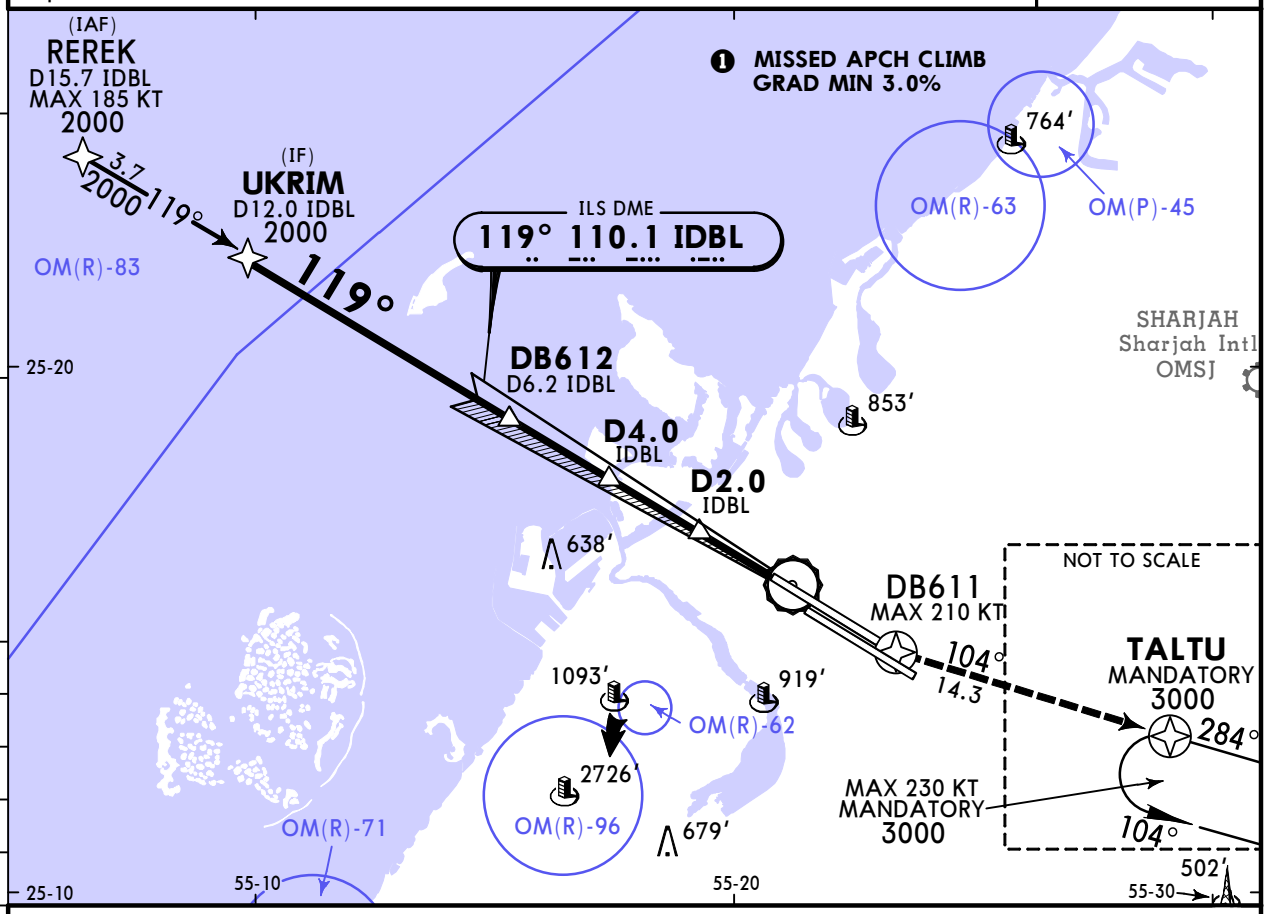


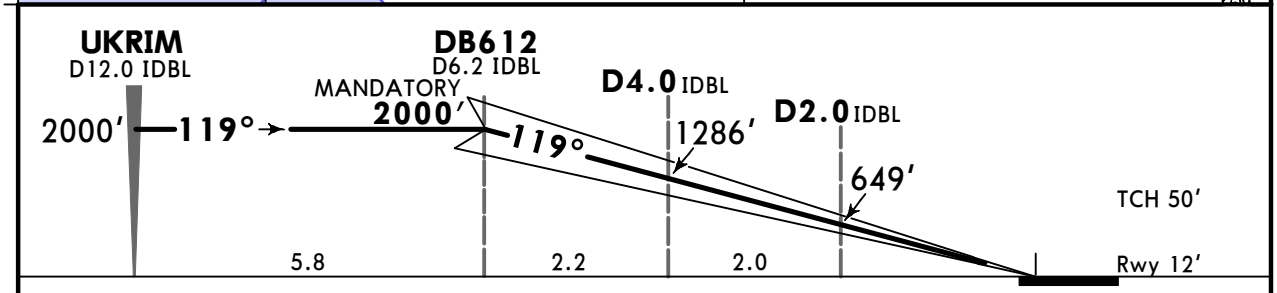


| Gnd speed-Kts | 70 | 90 | 100 | 120 | 140 | 160 |
|---|---|---|---|---|---|---|
| GS 3.00° | 372 | 478 | 531 | 637 | 743 | 849 |

HIALS-II
REIL
PAPI PAPI

D→ DB611 TALTU on 104°

**Std/State** STRAIGHT-IN LANDING

| CAT IIIB ILS | CAT IIIA ILS | CAT II ILS |
|---|---|---|
| | DH 50′ | A: RA 100′ DA(H) 112′(100′) C: RA 121′ DA(H) 133′(121′)<br>B: RA 109′ DA(H) 121′(109′) D: RA 135′ DA(H) 147′(135′) |

PANS OPS

| | CAT IIIB ILS | CAT IIIA ILS | CAT II ILS |
|---|---|---|---|
| A | R75m | R200m | R300m |
| B | | | |
| C | | | R400m |
| D | | | |

CHANGES: OM(D)-10 withdrawn, TALTU and holding at TALTU restrictions.

© JEPPESEN, 2001, 2025. ALL RIGHTS RESERVED.

Printed from JeppView for Windows 5.3.0.0 on 04 Oct 2025; Terminal chart data cycle 12-2025 (Expired); Notice: After 19 Jun 2025, 0000Z, this chart may no longer be valid

# OMDB/DXB
## DUBAI INTL

JEPPESEN

11 APR 25 (11-2) Eff 17 Apr

# DUBAI, UAE
## ❶ ILS Rwy 12R

BRIEFING STRIP™

| D-ATIS Arrival | MINHAD Approach | DUBAI Arrivals | DUBAI Director | DUBAI Tower North | DUBAI Tower South | Ground |
|---|---|---|---|---|---|---|
| 126.275 | 122.5 | 124.9 | 127.9X | 118.750 | 119.550 | 118.350 |

| LOC IDBE | Final Apch Crs | DB657 MANDATORY | ILS DA(H) | Apt Elev 62′ / Rwy 11′ |
|---|---|---|---|---|
| 109.5 | 119° | 3000′ (2989′) | 211′ (200′) | |

**MISSED APCH:** Climb direct to DB614, then on track 134° to DB655 at 4000′, then turn LEFT on track 044° to TALTU, hold at 4000′.
Refer to minimums for missed apch climb gradients.

Alt Set: hPa  Rwy Elev: 0 hPa  Trans level: FL150  Trans alt: 13000′

1. RNAV 1 required for initial, intermediate and missed apch transitions.
2. ILS DME reads zero at TDZ. 3. CIRCLE-TO-LAND: N/A.

MSA ARP: 180° 2400; 270° 3800; 356° 3000

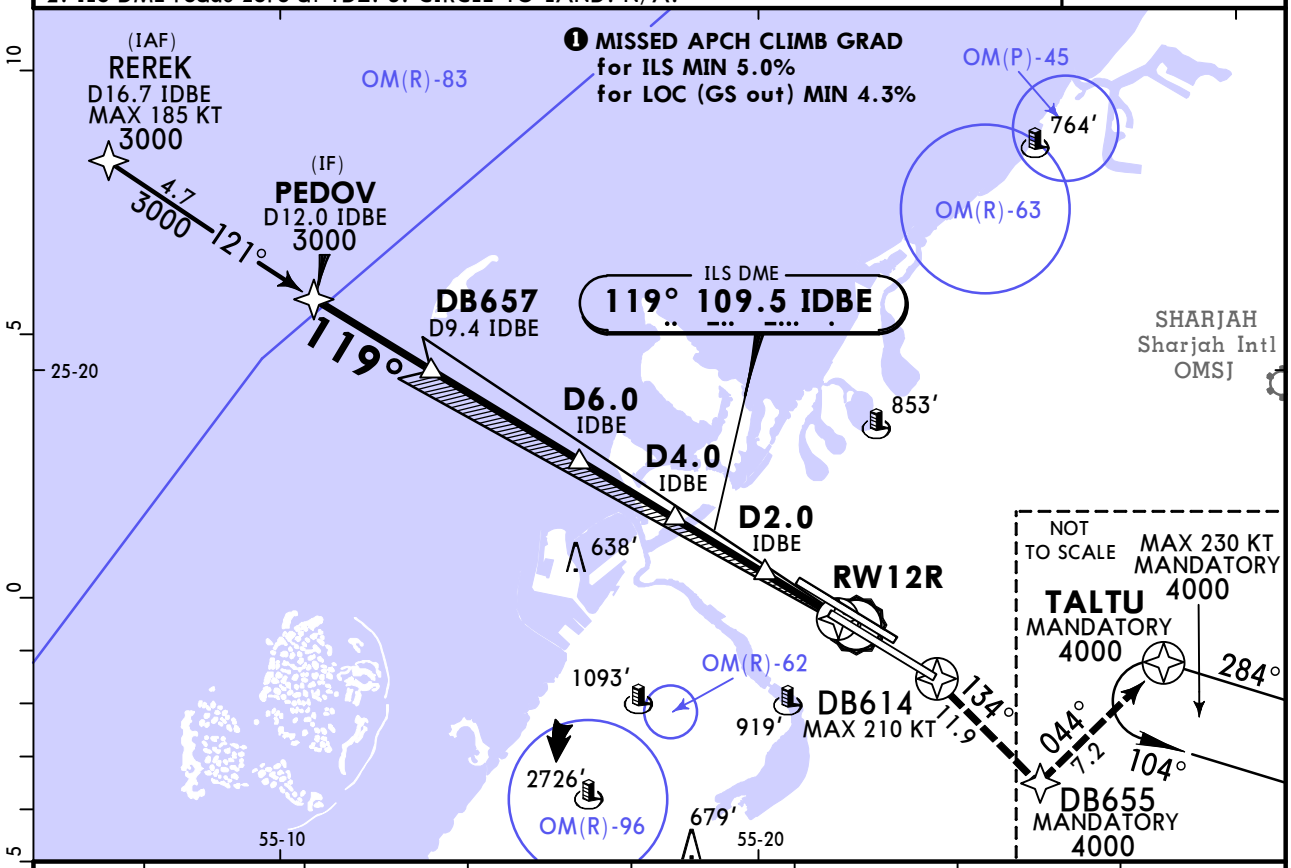


| LOC (GS out) | IDBE DME | 6.1 | 5.1 | 4.1 | 3.1 | 2.1 | 1.1 |
|---|---|---|---|---|---|---|---|
| | ALTITUDE | 1940′ | 1620′ | 1300′ | 990′ | 680′ | 370′ |

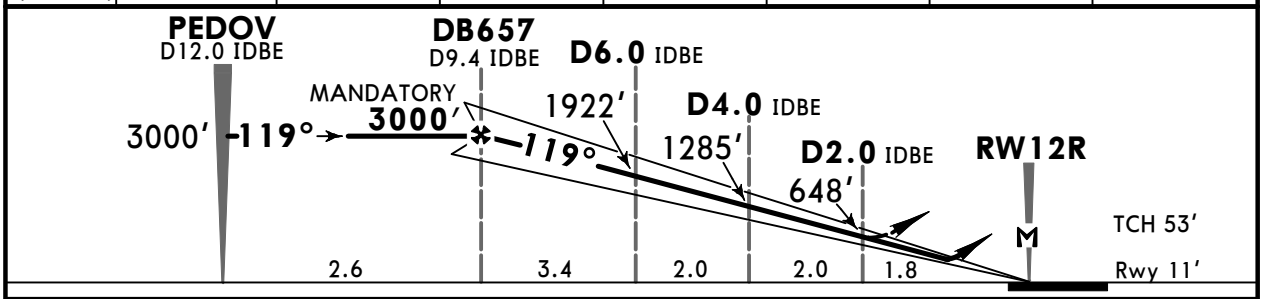


| Gnd speed-Kts | 70 | 90 | 100 | 120 | 140 | 160 |
|---|---|---|---|---|---|---|
| GS 3.00° | 372 | 478 | 531 | 637 | 743 | 849 |
| MAP at RW12R | | | | | | |

HIALS-II; REIL; PAPI; PAPI

D → DB614 DB655 on 134°

**Std/State** STRAIGHT-IN LANDING

| | ILS: Missed apch climb gradient MIN 5.0%, DA(H) 211′ (200′) | | | LOC (GS out): Missed apch climb gradient MIN 4.3%, CDFA, ❷ DA/MDA(H) 620′ (609′) | |
|---|---|---|---|---|---|
| | FULL | TDZ or CL out | ALS out | | ALS out |
| A | R550m | ❶ R550m | R1200m | R1500m | |
| B | | | | | |
| C | | | | R2100m | R2400m |
| D | | | | | |

PANS OPS

❶ R750m when a Flight Director or Autopilot or HUD to DA is not used.
❷ VNAV DA(H) in lieu of MDA(H) depends on operator policy.

CHANGES: OM(D)-10 withdrawn, TALTU and holding at TALTU restrictions.

© JEPPESEN, 2007, 2025. ALL RIGHTS RESERVED.

Printed from JeppView for Windows 5.3.0.0 on 04 Oct 2025; Terminal chart data cycle 12-2025 (Expired); Notice: After 19 Jun 2025, 0000Z, this chart may no longer be valid

# OMDB/DXB
DUBAI INTL

JEPPESEN

11 APR 25
Eff 17 Apr
(11-2A)

# DUBAI, UAE
## ❶CAT II/III ILS Rwy 12R

| D-ATIS Arrival | MINHAD Approach | DUBAI Arrivals | DUBAI Director | DUBAI Tower North | DUBAI Tower South | Ground |
|---|---|---|---|---|---|---|
| 126.275 | 122.5 | 124.9 | 127.9X | 118.750 | 119.550 | 118.350 |

| LOC IDBE | Final Apch Crs | DB657 MANDATORY | CAT IIIB, IIIA & II ILS | Apt Elev 62′ |
|---|---|---|---|---|
| 109.5 | 119° | 3000′(2989′) | Refer to Minimums | Rwy 11′ |

**MISSED APCH:** Climb direct to DB614, then on track 134° to DB655 at 4000′, then turn LEFT on track 044° to TALTU, hold at 4000′.
Missed apch requires a minimum climb gradient of 5.0%.

Alt Set: hPa  Rwy Elev: 0 hPa  Trans level: FL150  Trans alt: 13000′

1. RNAV 1 required for initial, intermediate and missed apch transitions.
2. Special Aircrew & Aircraft Certification Required. 3. ILS DME reads zero at TDZ.

180° 2400 3800 270° 3000 356°
MSA ARP

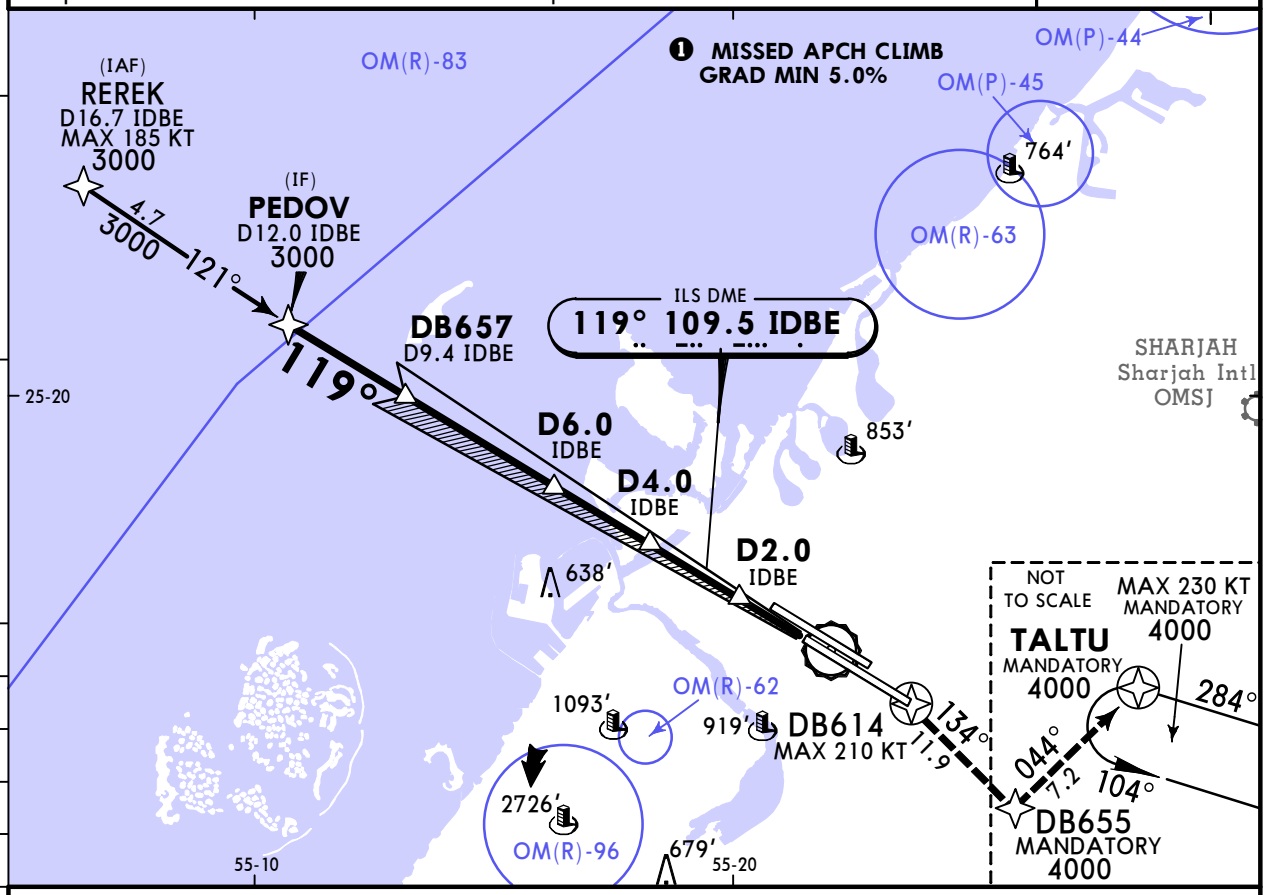


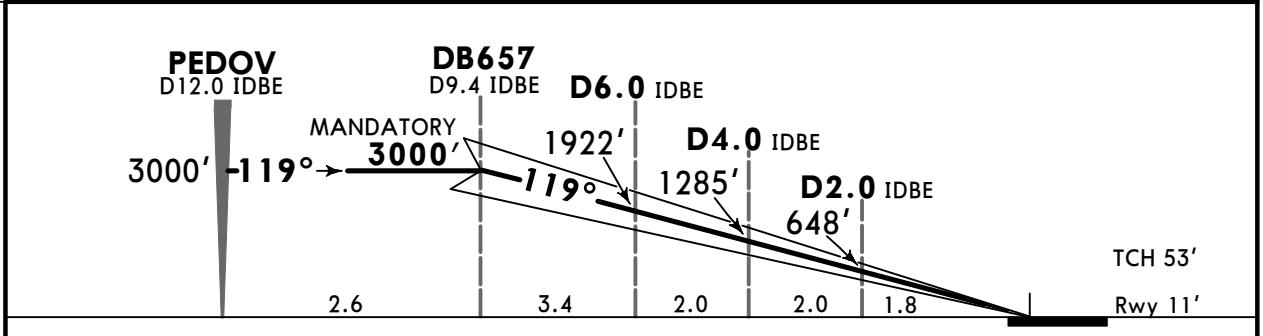


| Gnd speed-Kts | 70 | 90 | 100 | 120 | 140 | 160 |
|---|---|---|---|---|---|---|
| GS 3.00° | 372 | 478 | 531 | 637 | 743 | 849 |

HIALS-II
REIL PAPI PAPI

D→ DB614 DB655 on 134°

**Std/State**

STRAIGHT-IN LANDING

| | CAT IIIB ILS | CAT IIIA ILS | CAT II ILS |
|---|---|---|---|
| | | DH 50′ | ABC: RA 100′ DA(H) 111′(100′)<br>D: RA 110′ DA(H) 121′(110′) |
| A B C D | R75m | R200m | ❶R300m |

❶CAT D without autoland: R350m.

CHANGES: OM(D)-10 withdrawn, TALTU and holding at TALTU restrictions.

© JEPPESEN, 2014, 2025. ALL RIGHTS RESERVED.

BRIEFING STRIP ™
PANS OPS

Printed from JeppView for Windows 5.3.0.0 on 04 Oct 2025; Terminal chart data cycle 12-2025 (Expired); Notice: After 19 Jun 2025, 0000Z, this chart may no longer be valid

# OMDB/DXB
## DUBAI INTL

JEPPESEN
31 JAN 25 (11-3)

# DUBAI, UAE
## ❶ ILS Rwy 30L

| D-ATIS Arrival | MINHAD Approach | DUBAI Arrivals | DUBAI Director | DUBAI Tower North | DUBAI Tower South | Ground |
|---|---|---|---|---|---|---|
| 126.275 | 122.5 | 124.9 | 127.9X | 118.750 | 119.550 | 118.350 |

| LOC IDBW | Final Apch Crs | MODUS MANDATORY | ILS DA(H) | Apt Elev 62′ |
|---|---|---|---|---|
| 111.3 | 299° | 2000′ (1940′) | 260′ (200′) | Rwy 60′ |

**MISSED APCH:** Climb direct to DB7Ø7, then on track 284° to EGNOT, hold at 3000′. Refer to minimums for missed apch climb gradients.

Alt Set: hPa  Rwy Elev: 2 hPa  Trans level: FL150  Trans alt: 13000′

1. RNAV 1 required for initial, intermediate and missed apch transitions. 2. CAUTION: Independent Parallel Departures on RWY 30R. 3. ILS DME reads zero at TDZ. 4. CIRCLE-TO-LAND: N/A.

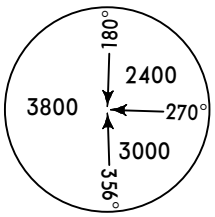

MSA ARP

BRIEFING STRIP™

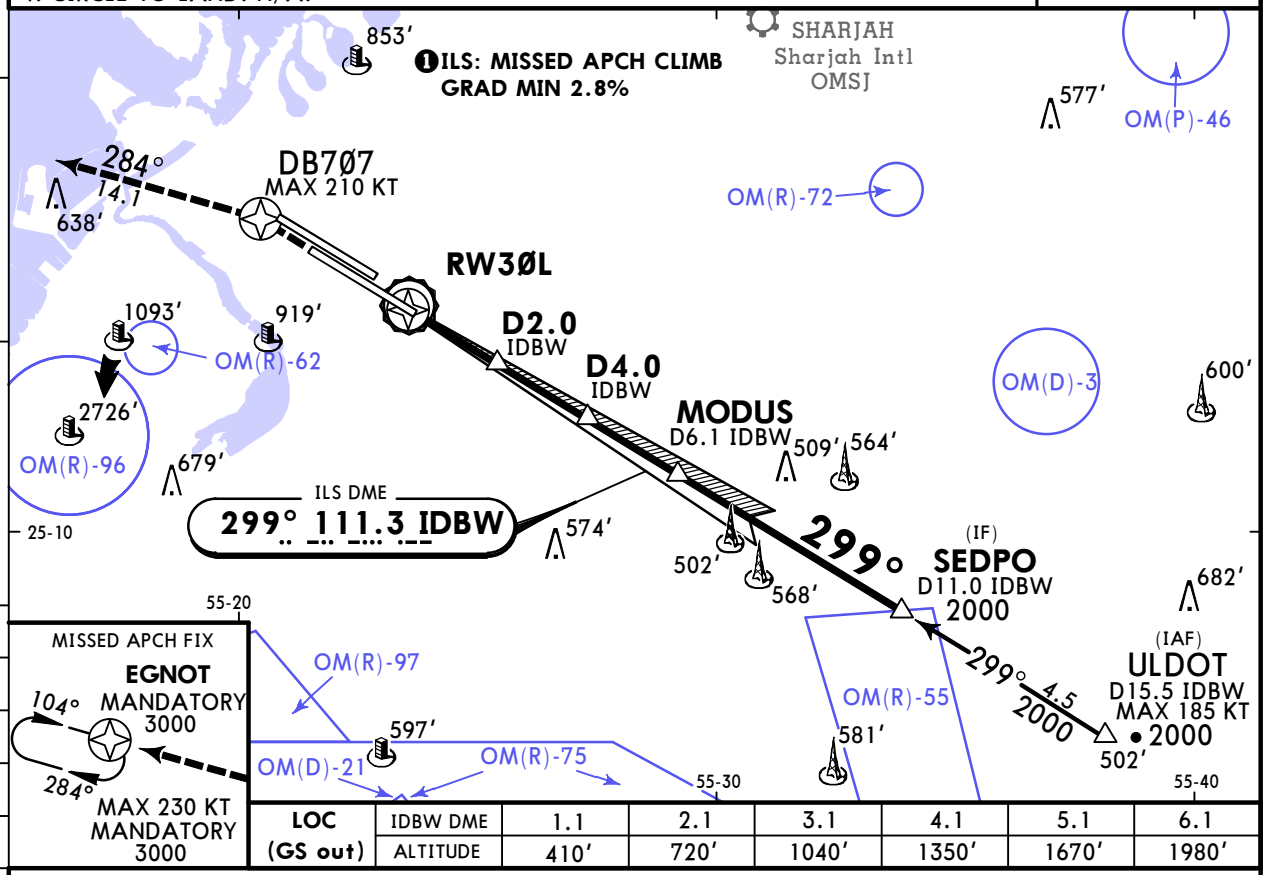


| LOC (GS out) | IDBW DME | 1.1 | 2.1 | 3.1 | 4.1 | 5.1 | 6.1 |
|---|---|---|---|---|---|---|---|
| | ALTITUDE | 410′ | 720′ | 1040′ | 1350′ | 1670′ | 1980′ |

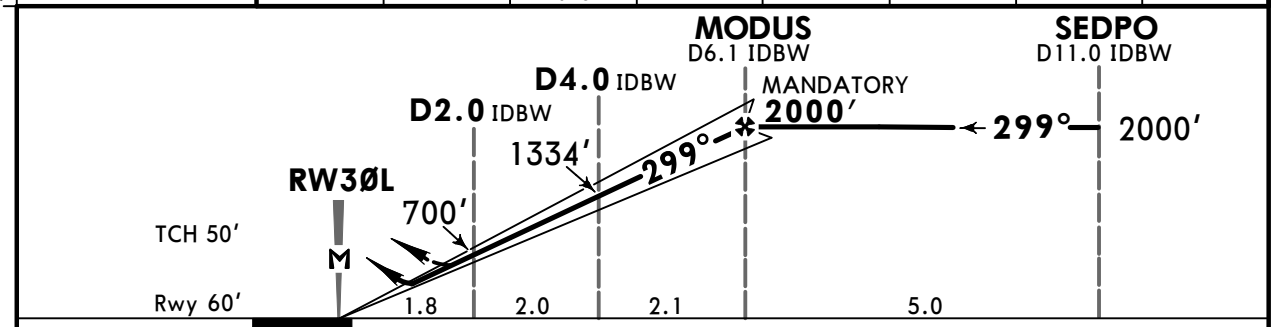


| Gnd speed-Kts | | 70 | 90 | 100 | 120 | 140 | 160 |
|---|---|---|---|---|---|---|---|
| GS | 3.00° | 372 | 478 | 531 | 637 | 743 | 849 |
| MAP at RW3ØL | | | | | | | |

HIALS-II
REIL PAPI PAPI

D DB7Ø7 EGNOT on 284°

**Std/State** STRAIGHT-IN LANDING

| | ILS | | | LOC (GS out) | |
|---|---|---|---|---|---|
| | Missed apch climb gradient MIN 2.8% | | | CDFA | |
| | DA(H) 260′ (200′) | | | ❷ DA/MDA(H) 560′ (500′) | |
| | | TDZ or CL out | ALS out | | ALS out |
| A | R550m | ❶ R550m | R1200m | R1500m | R1500m |
| B | | | | | |
| C | | | | | R2300m |
| D | | | | | |
| $D_L$ | | | | | |

PANS OPS

❶ R750m when a Flight Director or Autopilot or HUD to DA is not used.
❷ VNAV DA(H) in lieu of MDA(H) depends on operator policy.

CHANGES: Altitude at ULDOT added.

© JEPPESEN, 2007, 2025. ALL RIGHTS RESERVED.

Printed from JeppView for Windows 5.3.0.0 on 04 Oct 2025; Terminal chart data cycle 12-2025 (Expired); Notice: After 19 Jun 2025, 0000Z, this chart may no longer be valid

# OMDB/DXB
## DUBAI INTL

JEPPESEN

31 JAN 25 (11-3A)

# DUBAI, UAE
## ❶ CAT II/III ILS Rwy 30L

BRIEFING STRIP ™

| D-ATIS Arrival | MINHAD Approach | DUBAI Arrivals | DUBAI Director | DUBAI Tower North | DUBAI Tower South | Ground |
|---|---|---|---|---|---|---|
| 126.275 | 122.5 | 124.9 | 127.9X | 118.750 | 119.550 | 118.350 |

| LOC IDBW | Final Apch Crs | MODUS MANDATORY | CAT IIIB, IIIA & II ILS Refer to Minimums | Apt Elev 62′ Rwy 60′ |
|---|---|---|---|---|
| 111.3 | 299° | 2000′ (1940′) | | |

**MISSED APCH:** Climb direct to DB7Ø7, then on track 284° to EGNOT, hold at 3000′. Missed apch requires a minimum climb gradient of 2.83%.

Alt Set: hPa  Rwy Elev: 2 hPa  Trans level: FL150  Trans alt: 13000′

1. RNAV 1 required for initial, intermediate and missed apch transitions. 2. Special Aircrew & Aircraft Certification Required. 3. CAUTION: Independent Parallel Departures on RWY 30R. 4. ILS DME reads zero at TDZ.

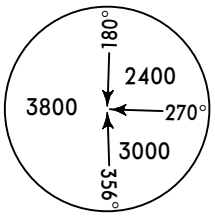


MSA ARP

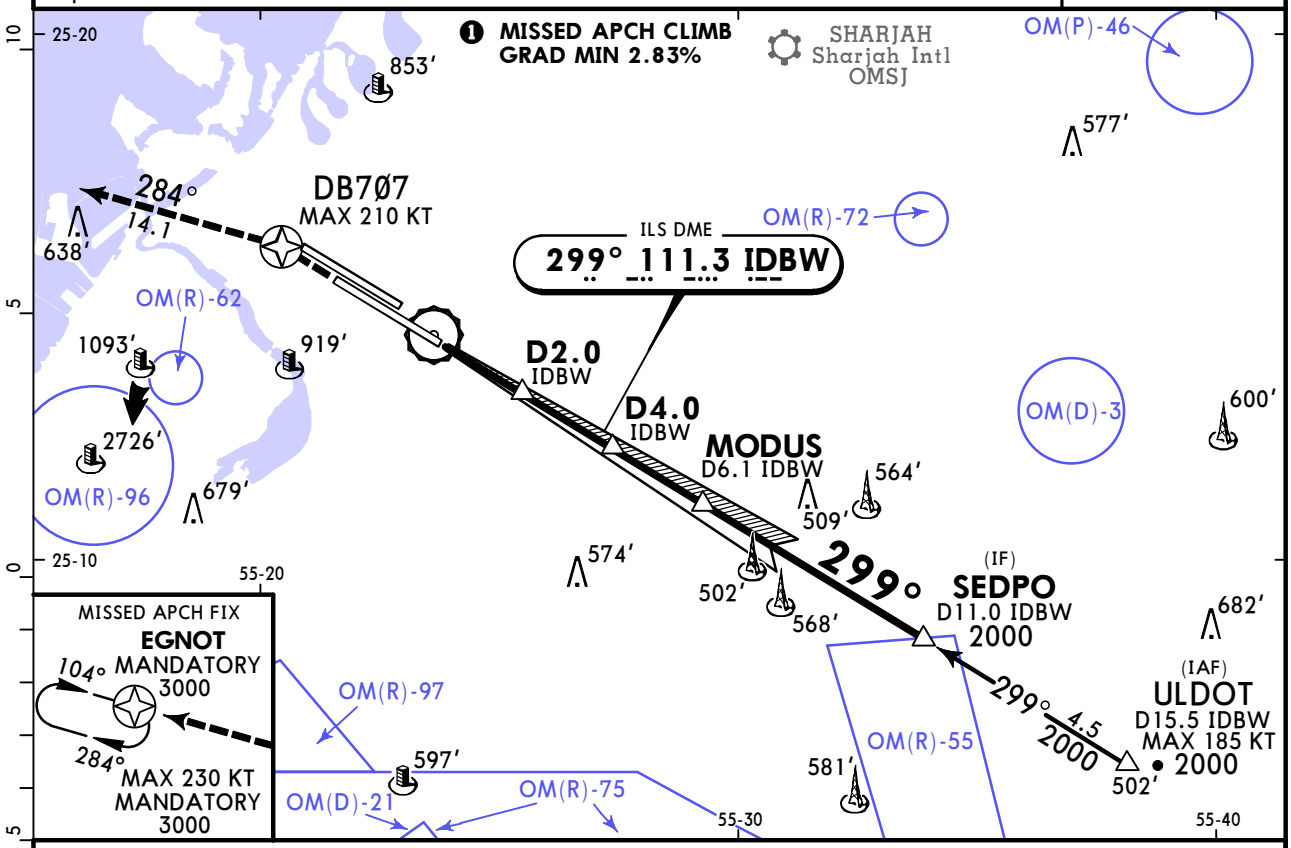


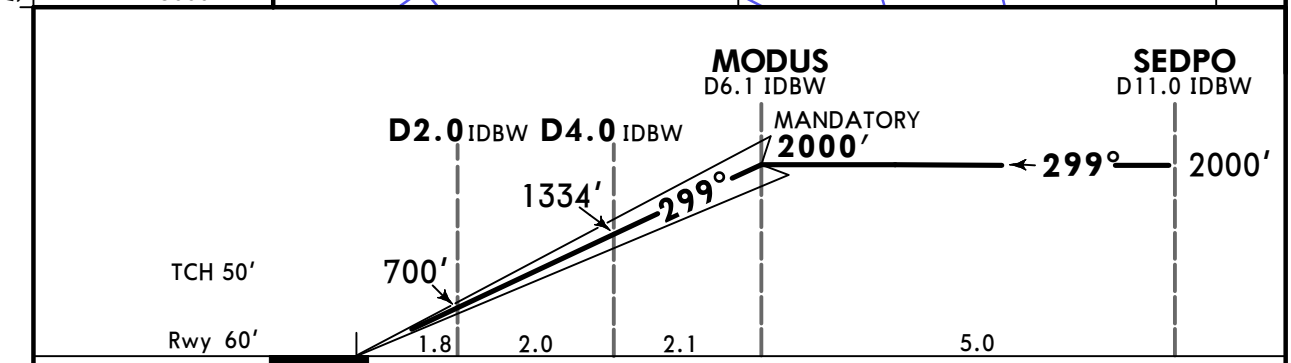


| Gnd speed-Kts | | 70 | 90 | 100 | 120 | 140 | 160 |
|---|---|---|---|---|---|---|---|
| GS | 3.00° | 372 | 478 | 531 | 637 | 743 | 849 |

HIALS-II REIL PAPI PAPI

D DB7Ø7 EGNOT on 284°

**Std/State** STRAIGHT-IN LANDING

| CAT IIIB ILS | CAT IIIA ILS | CAT II ILS |
|---|---|---|
| | DH 50′ | RA 100′ DA(H) 160′ (100′) |

PANS OPS

| | | | |
|---|---|---|---|
| A | R75m | R200m | ❶ R300m |
| B | | | |
| C | | | |
| D | | | |
| $D_L$ | | | |

❶ CAT D/DL without autoland: R350m.

CHANGES: Altitude at ULDOT added.

© JEPPESEN, 2014, 2025. ALL RIGHTS RESERVED.

Printed from JeppView for Windows 5.3.0.0 on 04 Oct 2025; Terminal chart data cycle 12-2025 (Expired); Notice: After 19 Jun 2025, 0000Z, this chart may no longer be valid

# OMDB/DXB
## DUBAI INTL

JEPPESEN

31 JAN 25 (11-4)

# DUBAI, UAE
## ❶ ILS Rwy 30R

BRIEFING STRIP ™

| D-ATIS Arrival | MINHAD Approach | DUBAI Arrivals | DUBAI Director | DUBAI Tower North | DUBAI Tower South | Ground |
|---|---|---|---|---|---|---|
| 126.275 | 122.5 | 124.9 | 127.9X | 118.750 | 119.550 | 118.350 |

| LOC IDBR | Final Apch Crs | DB759 MANDATORY | ILS DA(H) | Apt Elev | Rwy |
|---|---|---|---|---|---|
| 110.9 | 299° | 3000′ (2967′) | Refer to Minimums | 62′ | 33′ |

**MISSED APCH:** Climb direct to DB755, then on track 314° to DB756 at 4000′, then turn LEFT on track 224° to EGNOT, hold at 4000′.
Refer to minimums for missed apch climb gradients.

Alt Set: hPa  Rwy Elev: 1 hPa  Trans level: FL150  Trans alt: 13000′

1. RNAV 1 required for initial, intermediate and missed apch transitions.
2. ILS DME reads zero at TDZ. 3. CIRCLE-TO-LAND: N/A.

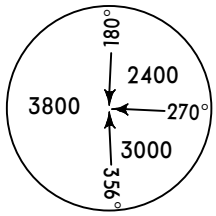


MSA ARP

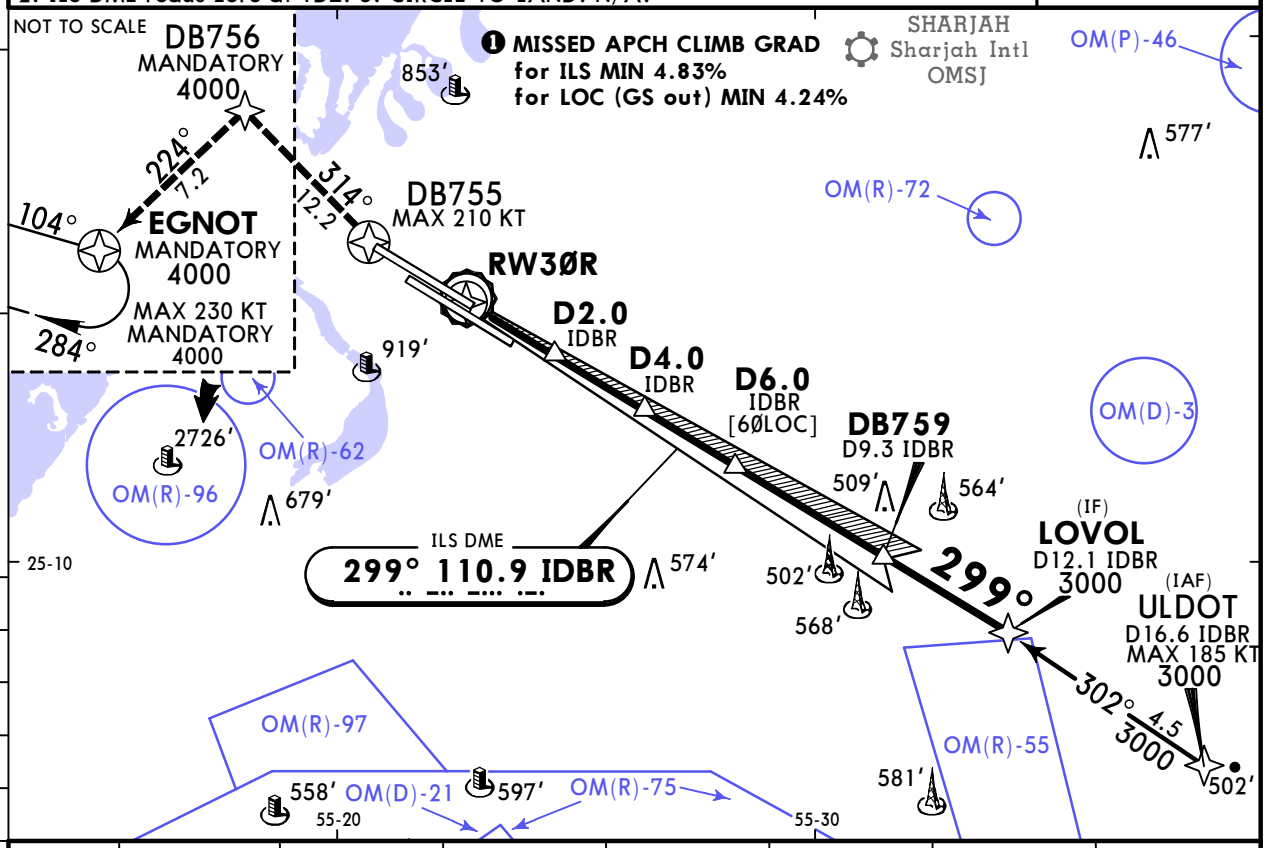


| LOC (GS out) | IDBR DME | 1.2 | 2.2 | 3.2 | 4.2 | 5.2 | 6.2 |
|---|---|---|---|---|---|---|---|
| | ALTITUDE | 420′ | 730′ | 1040′ | 1360′ | 1670′ | 1990′ |

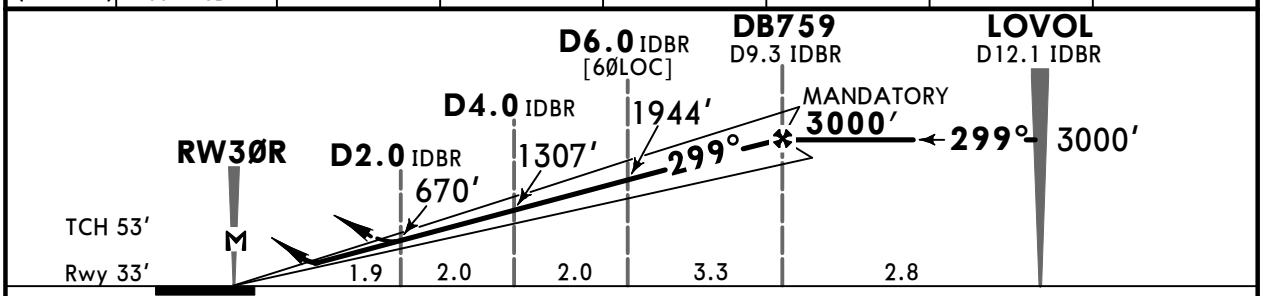


| Gnd speed-Kts | | 70 | 90 | 100 | 120 | 140 | 160 |
|---|---|---|---|---|---|---|---|
| GS | 3.00° | 372 | 478 | 531 | 637 | 743 | 849 |
| | | | | | | | |
| MAP at RW3ØR | | | | | | | |

HIALS-II
REIL PAPI PAPI

D → DB755 DB756 on 314°

**Std/State**

STRAIGHT-IN LANDING

**ILS**
Missed apch climb gradient MIN 4.83%
DA(H) ABC: **233′** (200′) D: **240′** (207′)

**LOC (GS out)**
Missed apch climb gradient MIN 4.24%
CDFA
❷ DA/MDA(H) **510′** (477′)

| | FULL | TDZ or CL out | ALS out | | ALS out |
|---|---|---|---|---|---|
| A | R550m | ❶ R550m | R1200m | R1500m | |
| B | | | | | |
| C | | | | R1500m | R2200m |
| D | | | | | |

PANS OPS

❶ R750m when a Flight Director or Autopilot or HUD to DA is not used.
❷ VNAV DA(H) in lieu of MDA(H) depends on operator policy.

CHANGES: Altitude at ULDOT added.

© JEPPESEN, 2000, 2025. ALL RIGHTS RESERVED.

Printed from JeppView for Windows 5.3.0.0 on 04 Oct 2025; Terminal chart data cycle 12-2025 (Expired); Notice: After 19 Jun 2025, 0000Z, this chart may no longer be valid

# OMDB/DXB
## DUBAI INTL

JEPPESEN

31 JAN 25 (11-4A)

# DUBAI, UAE
## ❶CAT II/III ILS Rwy 30R

| D-ATIS Arrival | MINHAD Approach | DUBAI Arrivals | DUBAI Director | DUBAI Tower North | DUBAI Tower South | Ground |
|---|---|---|---|---|---|---|
| 126.275 | 122.5 | 124.9 | 127.9X | 118.750 | 119.550 | 118.350 |

BRIEFING STRIP ™

| LOC IDBR | Final Apch Crs | DB759 MANDATORY | CAT IIIB, IIIA & II ILS Refer to Minimums | Apt Elev 62′ Rwy 33′ |
|---|---|---|---|---|
| 110.9 | 299° | 3000′(2967′) | | |

**MISSED APCH:** Climb direct to DB755, then on track 314° to DB756 at 4000′, then turn LEFT on track 224° to EGNOT, hold at 4000′.
Missed apch requires a minimum climb gradient of 4.84%.

Alt Set: hPa  Rwy Elev: 1 hPa  Trans level: FL150  Trans alt: 13000′

1. RNAV 1 required for initial, intermediate and missed apch transitions.
2. Special Aircrew & Aircraft Certification Required. 3. ILS DME reads zero at TDZ.

MSA ARP: 180° 2400; 270° 3800; 356° 3000

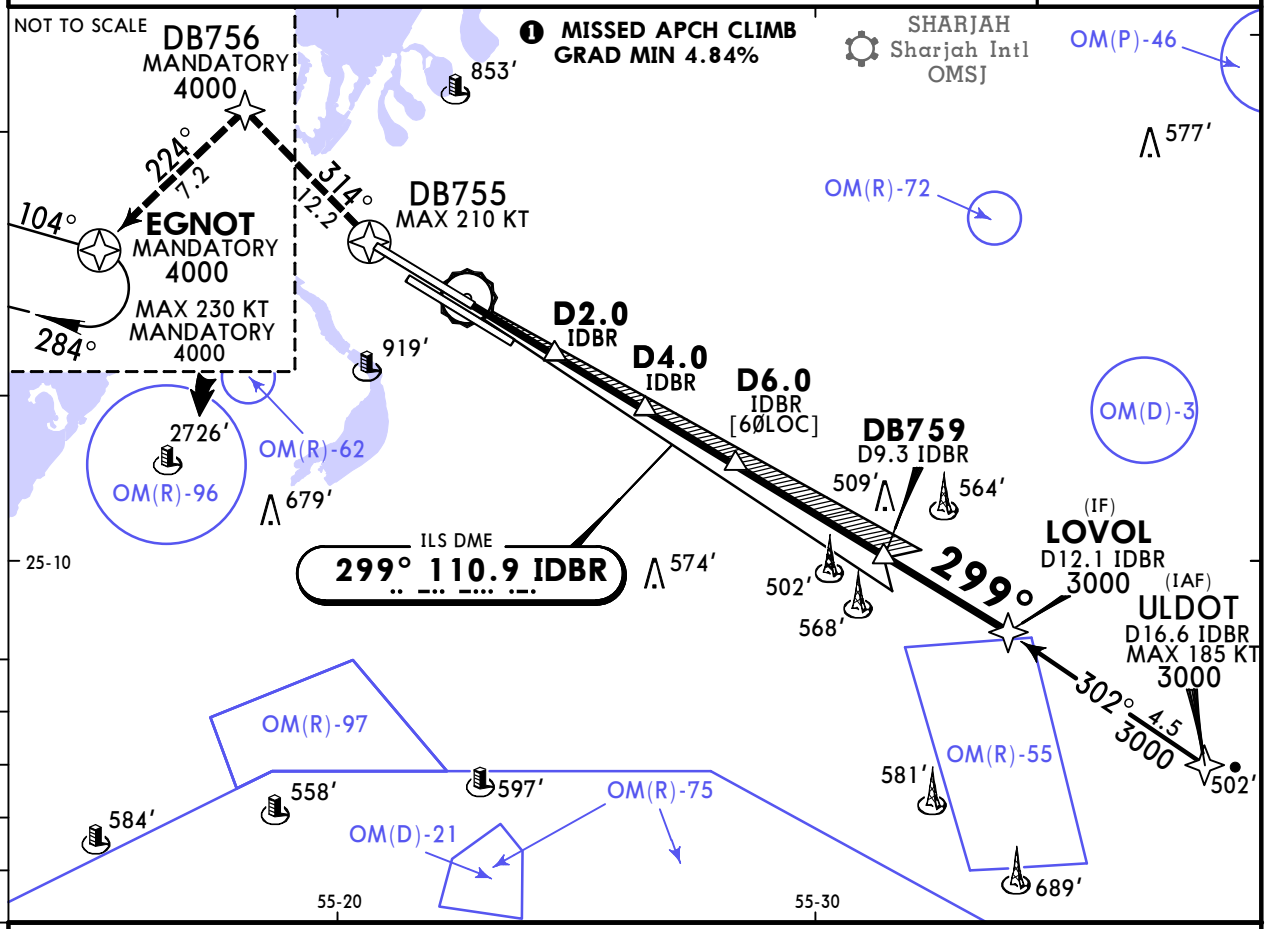


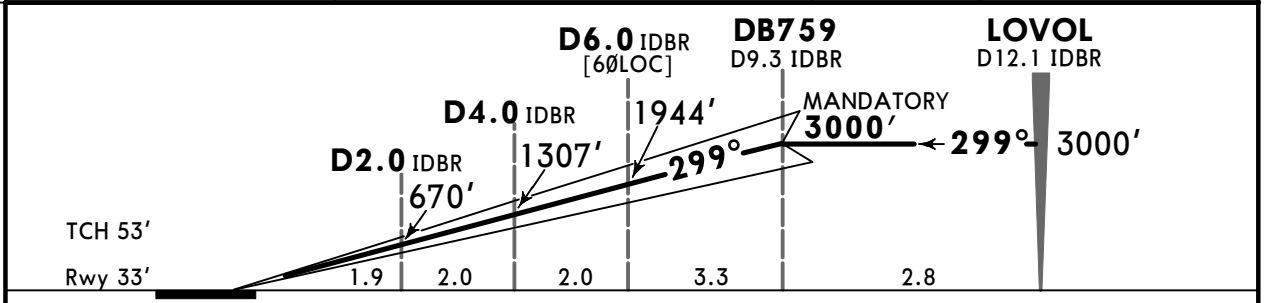


| Gnd speed-Kts | | 70 | 90 | 100 | 120 | 140 | 160 |
|---|---|---|---|---|---|---|---|
| GS | 3.00° | 372 | 478 | 531 | 637 | 743 | 849 |

HIALS-II
REIL PAPI PAPI

DB755 | DB756 on 314°

**Std/State** STRAIGHT-IN LANDING

| | CAT IIIB ILS | CAT IIIA ILS | CAT II ILS |
|---|---|---|---|
| | | DH 50′ | A: RA 100′ DA(H) 133′(100′) C: RA 117′ DA(H) 150′(117′)<br>B: RA 105′ DA(H) 138′(105′) D: RA 132′ DA(H) 165′(132′) |
| PANS OPS A | R75m | R200m | R300m |
| PANS OPS B | | | |
| PANS OPS C | | | |
| PANS OPS D | | | R400m |

CHANGES: Altitude at ULDOT added.

© JEPPESEN, 2006, 2025. ALL RIGHTS RESERVED.

Printed from JeppView for Windows 5.3.0.0 on 04 Oct 2025; Terminal chart data cycle 12-2025 (Expired); Notice: After 19 Jun 2025, 0000Z, this chart may no longer be valid

# OMDB/DXB
## DUBAI INTL

JEPPESEN
11 APR 25 (12-1) Eff 17 Apr

# DUBAI, UAE
## ❶ RNP Rwy 12L

BRIEFING STRIP TM

| D-ATIS Arrival | MINHAD Approach | DUBAI Arrivals | DUBAI Director | DUBAI Tower North | DUBAI Tower South | Ground |
|---|---|---|---|---|---|---|
| 126.275 | 122.5 | 124.9 | 127.9X | 118.750 | 119.550 | 118.350 |

| RNAV | Final Apch Crs | DB6Ø1 MANDATORY | LNAV/VNAV DA(H) Refer to Minimums | Apt Elev 62′ Rwy 12′ |
|---|---|---|---|---|
| | 119° | 2000′(1988′) | | |

**MISSED APCH:** Climb direct to DB611, then on track 104° to TALTU, hold at 3000.′ Refer to minimums for missed apch climb gradients.

Alt Set: hPa  Rwy Elev: 0 hPa  Trans level: FL150  Trans alt: 13000′

RNP Apch
1. CAUTION: Independent Parallel Departures on RWY 12R.
2. CIRCLE-TO-LAND: N/A. 3. Baro-VNAV not authorized below +5°C.

MSA ARP: 180° 2400; 270° 3800; 356° 3000

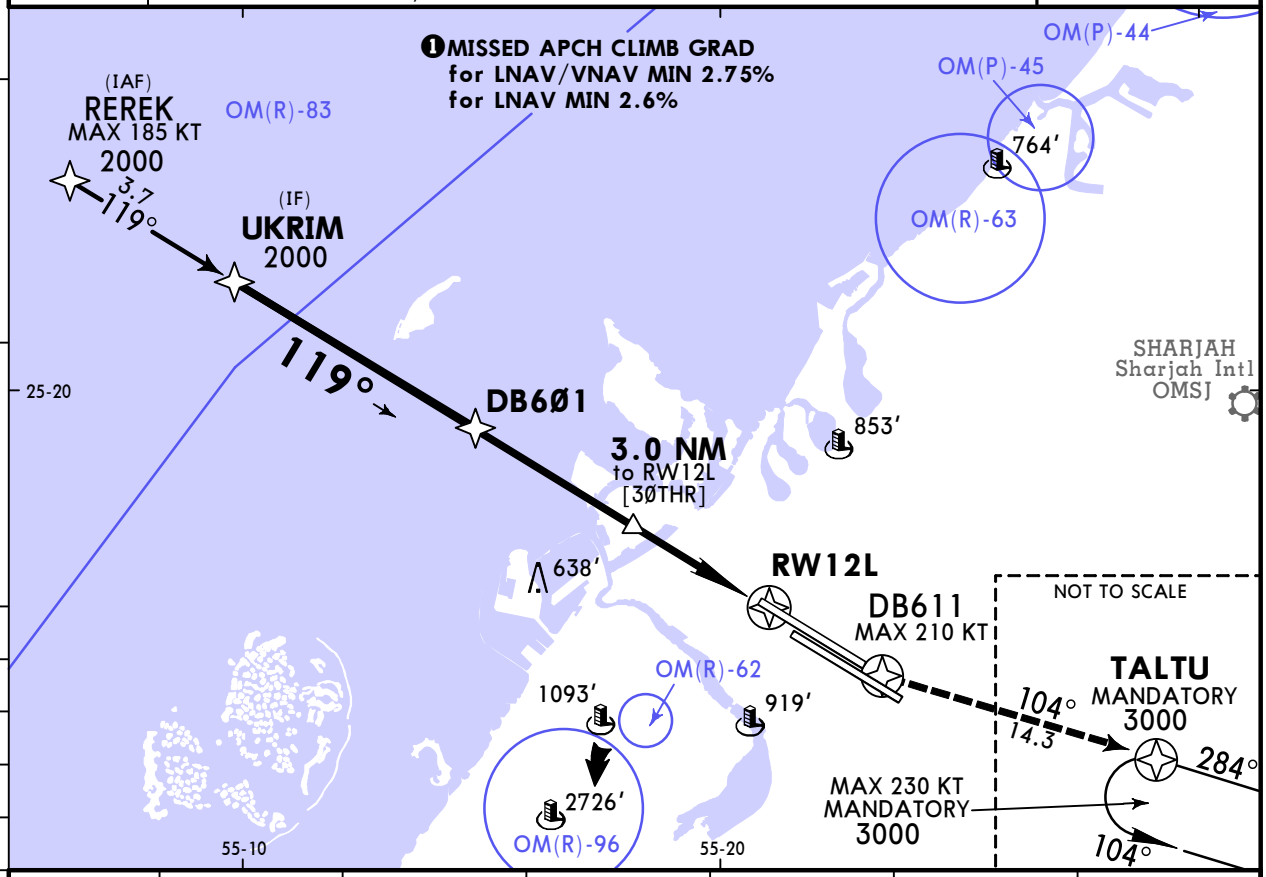


| DIST to RW12L | 5.5 | 4.5 | 3.5 | 2.5 | 1.5 | 0.5 |
|---|---|---|---|---|---|---|
| ALTITUDE | 1690′ | 1390′ | 1100′ | 800′ | 500′ | 200′ |

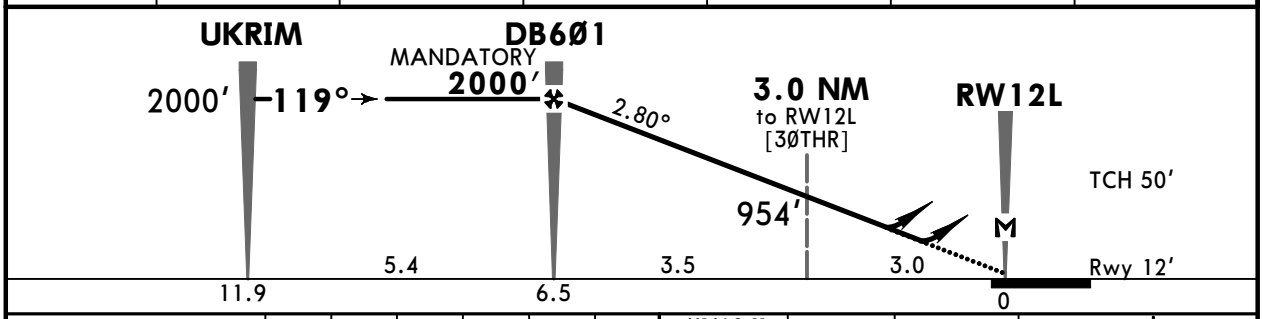


| Gnd speed-Kts | | 70 | 90 | 100 | 120 | 140 | 160 |
|---|---|---|---|---|---|---|---|
| Glide Path Angle | 2.80° | 347 | 446 | 495 | 594 | 693 | 792 |
| MAP at RW12L | | | | | | | |

HIALS-II REIL PAPI PAPI

D → DB611 TALTU on 104°

**Std/State** STRAIGHT-IN LANDING

| PANS OPS | LNAV/VNAV Missed apch climb gradient MIN 2.75% A: 330′(318′) DA(H) BC: 350′(338′) DDL: 370′(358′) | | LNAV Missed apch climb gradient MIN 2.6% CDFA ❷ DA/MDA(H) 550′(538′) | |
|---|---|---|---|---|
| | | ALS out | | ALS out |
| A | ❶R750m | R1400m | R1500m | |
| B | R800m | R1500m | | |
| C | | | R1700m | R2400m |
| D | R900m | R1600m | | |
| $D_L$ | | | | |

❶ With TDZ & CL & HUD: R700m. ❷ VNAV DA(H) in lieu of MDA(H) depends on operator policy.

CHANGES: OM(D)-10 withdrawn, TALTU and holding at TALTU restrictions.

© JEPPESEN, 2012, 2025. ALL RIGHTS RESERVED.

Printed from JeppView for Windows 5.3.0.0 on 04 Oct 2025; Terminal chart data cycle 12-2025 (Expired); Notice: After 19 Jun 2025, 0000Z, this chart may no longer be valid

# OMDB/DXB
## DUBAI INTL

JEPPESEN
11 APR 25 (12-2) Eff 17 Apr

# DUBAI, UAE
## ❶ RNP Rwy 12R

| D-ATIS Arrival | MINHAD Approach | DUBAI Arrivals | DUBAI Director | DUBAI Tower North | DUBAI Tower South | Ground |
|---|---|---|---|---|---|---|
| 126.275 | 122.5 | 124.9 | 127.9X | 118.750 | 119.550 | 118.350 |

BRIEFING STRIP ™

| RNAV | Final Apch Crs | DB658 MANDATORY | LNAV/VNAV DA(H) | Apt Elev 62′ |
|---|---|---|---|---|
| | 119° | 3000′(2989′) | Refer to Minimums | Rwy 11′ |

**MISSED APCH:** Climb direct to DB614, then on track 134° to DB655 at 4000′, then turn LEFT on track 044° to TALTU, hold at 4000′.
Refer to minimums for missed apch climb gradients.

Alt Set: hPa | Rwy Elev: 0 hPa | Trans level: FL150 | Trans alt: 13000′

RNP Apch | 1. CIRCLE-TO-LAND: N/A. 2. Baro-VNAV not authorized below +5°C.

MSA ARP: 180° 2400; 270° 3000; 356° 3800

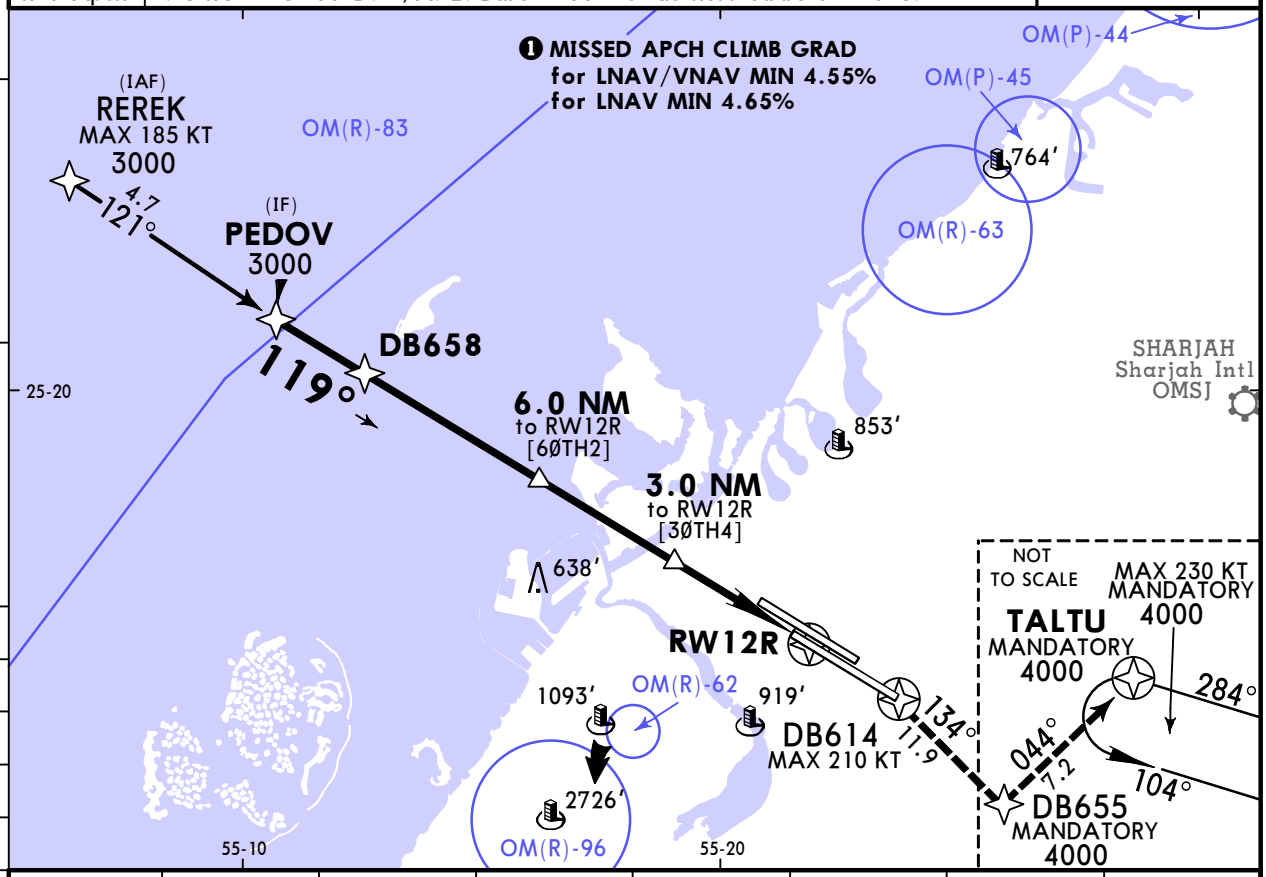


| DIST to RW12R | 6.5 | 5.5 | 4.5 | 3.5 | 2.5 | 1.5 | 0.5 |
|---|---|---|---|---|---|---|---|
| ALTITUDE | 1990′ | 1690′ | 1400′ | 1100′ | 800′ | 500′ | 210′ |

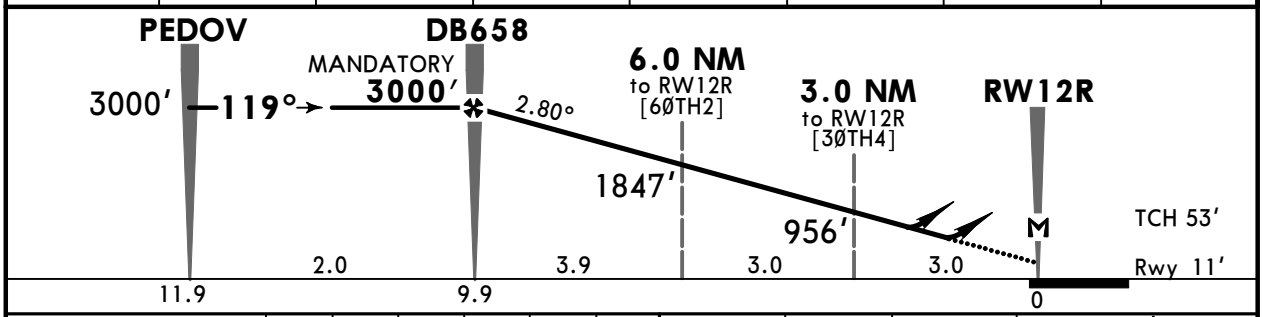


| Gnd speed-Kts | 70 | 90 | 100 | 120 | 140 | 160 |
|---|---|---|---|---|---|---|
| Glide Path Angle 2.80° | 347 | 446 | 495 | 594 | 693 | 792 |
| | | | | | | |
| MAP at RW12R | | | | | | |

HIALS-II
REIL
PAPI PAPI

D → DB614 DB655 on 134°

**Std/State** STRAIGHT-IN LANDING

| | LNAV/VNAV | | LNAV | |
|---|---|---|---|---|
| | Missed apch climb gradient MIN 4.55% | | Missed apch climb gradient MIN 4.65% | |
| | A: 420′(409′) | | CDFA | |
| | DA(H) BC: 440′(429′) DDL: 450′(439′) | | ❶ DA/MDA(H) 620′(609′) | |
| | | ALS out | | ALS out |
| A | R1200m | R1500m | R1500m | |
| B | | | | |
| C | R1300m | R2000m | R2100m | R2400m |
| D | | | | |
| $D_L$ | | | | |

PANS OPS

❶ VNAV DA(H) in lieu of MDA(H) depends on operator policy.

CHANGES: OM(D)-10 withdrawn, TALTU and holding at TALTU restrictions.

© JEPPESEN, 2012, 2025. ALL RIGHTS RESERVED.

Printed from JeppView for Windows 5.3.0.0 on 04 Oct 2025; Terminal chart data cycle 12-2025 (Expired); Notice: After 19 Jun 2025, 0000Z, this chart may no longer be valid

# OMDB/DXB
## DUBAI INTL

JEPPESEN
17 JAN 25 (12-3) Eff 23 Jan

# DUBAI, UAE
## ❶ RNP Rwy 30L

BRIEFING STRIP TM

| D-ATIS Arrival | MINHAD Approach | DUBAI Arrivals | DUBAI Director | DUBAI Tower North | DUBAI Tower South | Ground |
|---|---|---|---|---|---|---|
| 126.275 | 122.5 | 124.9 | 127.9X | 118.750 | 119.550 | 118.350 |

| RNAV | Final Apch Crs | DB713 MANDATORY | LNAV/VNAV DA(H) Refer to Minimums | Apt Elev 62′ Rwy 60′ |
|---|---|---|---|---|
| | 299° | 2000′ (1940′) | | |

**MISSED APCH:** Climb direct to DB7Ø7, then on track 284° to EGNOT, hold at 3000′. Refer to minimums for missed apch climb gradients.

Alt Set: hPa  Rwy Elev: 2 hPa  Trans level: FL150  Trans alt: 13000′

RNP Apch
1. CAUTION: Independent Parallel Departures on RWY 30R.
2. CIRCLE-TO-LAND: N/A. 3. Baro-VNAV not authorized below +5°C.

MSA ARP: 180° 2400; 270° 3000; 356° 3800

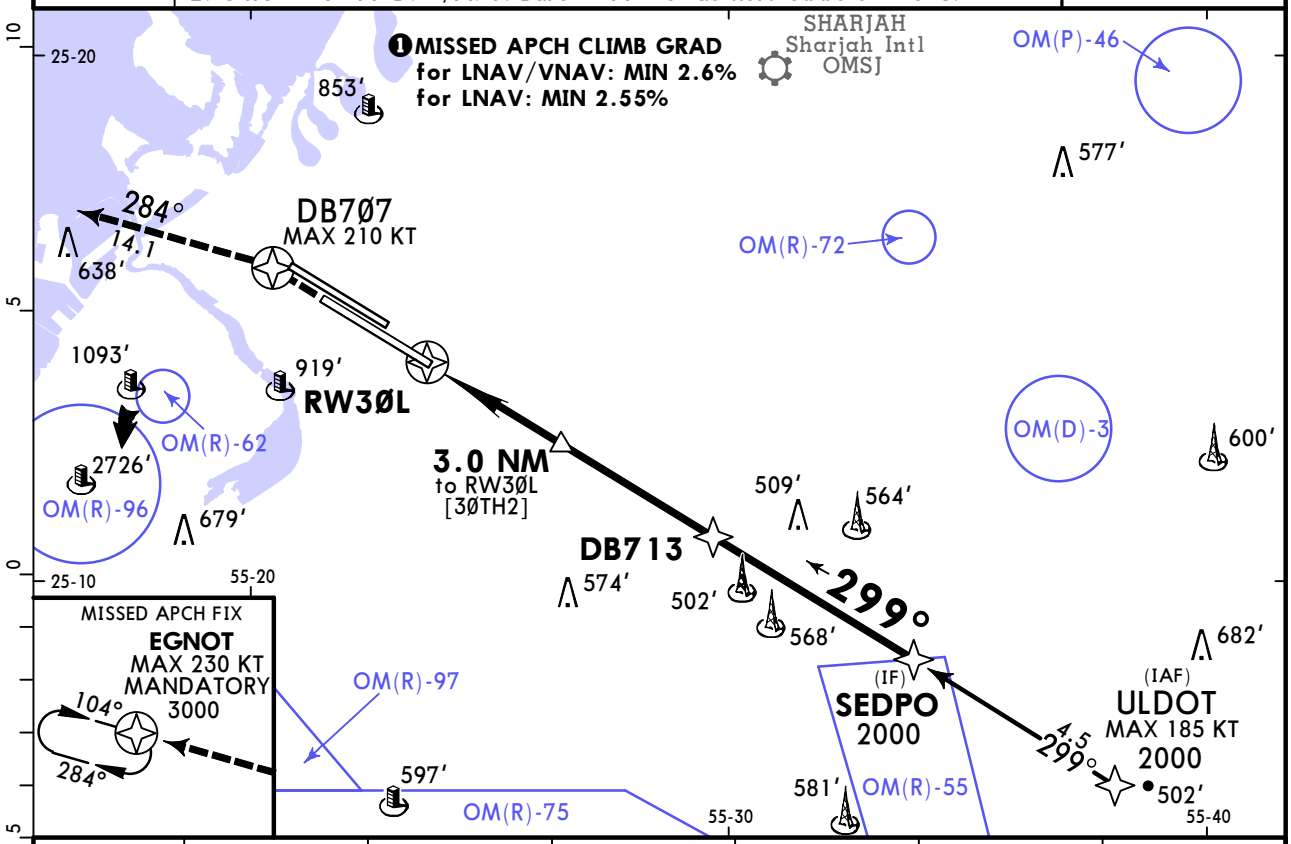


| DIST to RW3ØL | 1.3 | 2.3 | 3.3 | 4.3 | 5.3 | 6.3 |
|---|---|---|---|---|---|---|
| ALTITUDE | 490′ | 790′ | 1090′ | 1380′ | 1680′ | 1980′ |

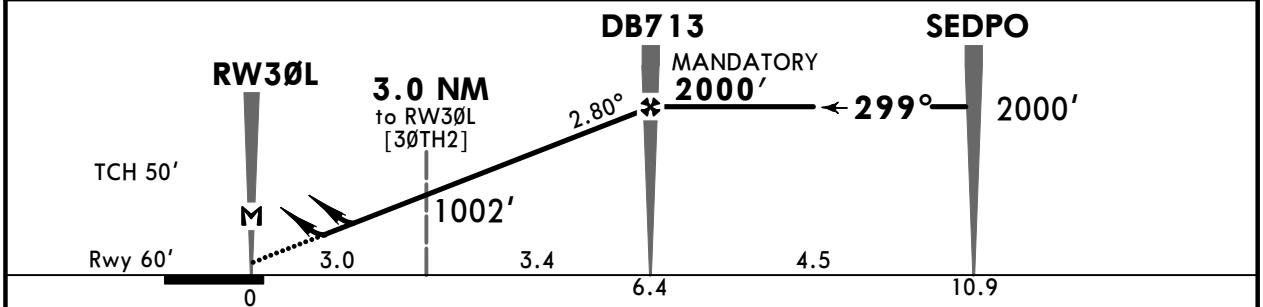


| Gnd speed-Kts | | 70 | 90 | 100 | 120 | 140 | 160 |
|---|---|---|---|---|---|---|---|
| Glide Path Angle | 2.80° | 347 | 446 | 495 | 594 | 693 | 792 |
| MAP at RW3ØL | | | | | | | |

HIALS-II; REIL; PAPI; PAPI

DB7Ø7 EGNOT on 284°

**Std/State** STRAIGHT-IN LANDING

| | LNAV/VNAV | | LNAV | |
|---|---|---|---|---|
| | Missed apch climb gradient MIN 2.6% | | Missed apch climb gradient MIN 2.55% | |
| | A: 370′(310′) C: 390′(330′) | | CDFA | |
| | DA(H) B: 380′(320′) DDL: 400′(340′) | | ❷ DA/MDA(H) 560′(500′) | |
| | | ALS out | | ALS out |
| A, B | ❶R750m | R1400m | R1500m | R1500m |
| C, D, $D_L$ | R800m | R1500m | | R2300m |

PANS OPS

❶ With TDZ & CL & HUD: R700m.
❷ VNAV DA(H) in lieu of MDA(H) depends on operator policy.

CHANGES: Minimums.

© JEPPESEN, 2012, 2025. ALL RIGHTS RESERVED.

Printed from JeppView for Windows 5.3.0.0 on 04 Oct 2025; Terminal chart data cycle 12-2025 (Expired); Notice: After 19 Jun 2025, 0000Z, this chart may no longer be valid

# OMDB/DXB
## DUBAI INTL

JEPPESEN
17 JAN 25 (12-4) Eff 23 Jan

# DUBAI, UAE
## ❶ RNP Rwy 30R

BRIEFING STRIP TM

| D-ATIS Arrival | MINHAD Approach | DUBAI Arrivals | DUBAI Director | DUBAI Tower North | DUBAI Tower South | Ground |
|---|---|---|---|---|---|---|
| 126.275 | 122.5 | 124.9 | 127.9X | 118.750 | 119.550 | 118.350 |

| RNAV | Final Apch Crs | DB78Ø MANDATORY | LNAV/VNAV DA(H) Refer to Minimums | Apt Elev 62′ Rwy 33′ |
|---|---|---|---|---|
| | 299° | 3000′ (2967′) | | |

**MISSED APCH:** Climb direct to DB755, then on track 314° to DB756 at 4000′, then turn LEFT on track 224° to EGNOT, hold at 4000′.
Refer to minimums for missed apch climb gradients.

Alt Set: hPa | Rwy Elev: 1 hPa | Trans level: FL150 | Trans alt: 13000′

RNP Apch | 1. CIRCLE-TO-LAND: N/A. 2. Baro-VNAV not authorized below +5°C.

MSA ARP: 180° 2400; 270° 3800; 3000; 356°

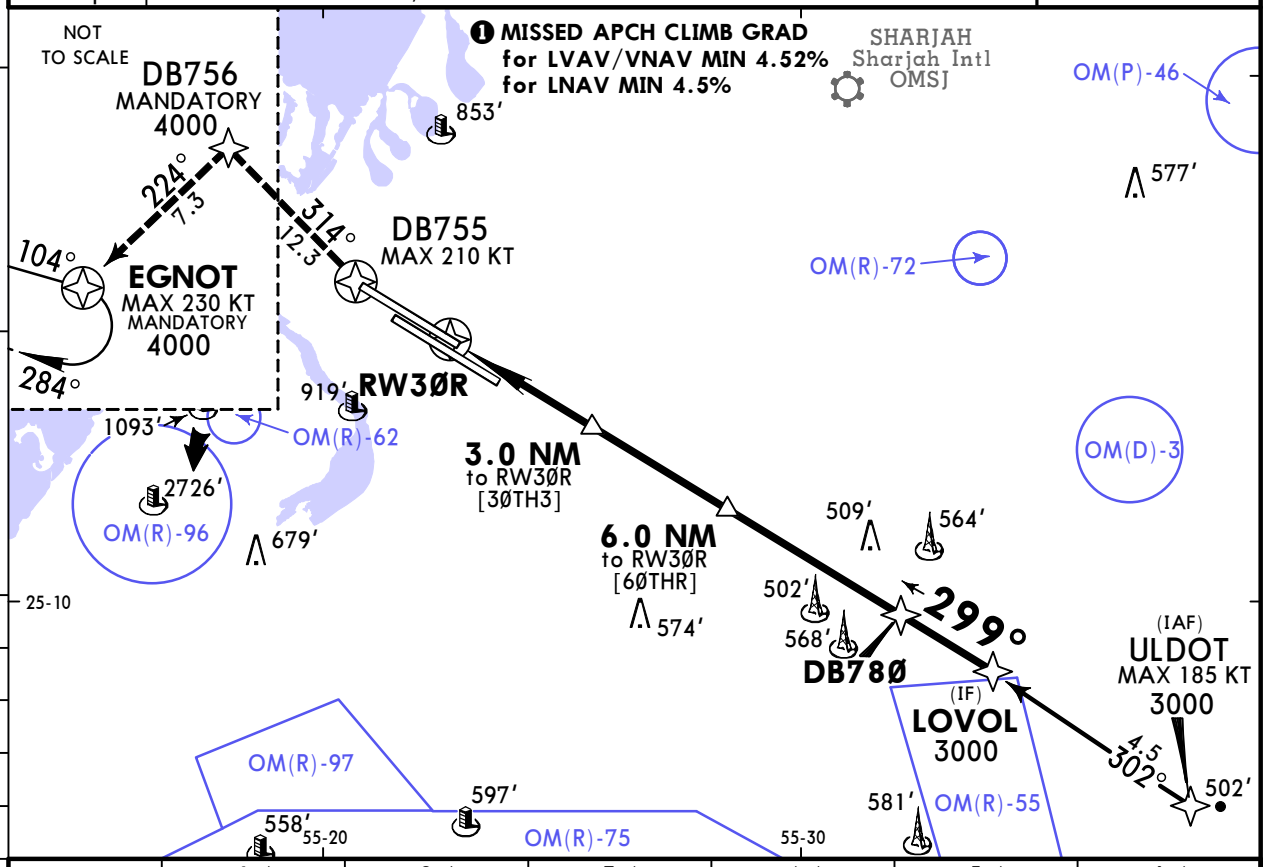


| DIST to RW3ØR | 1.4 | 2.4 | 3.4 | 4.4 | 5.4 | 6.4 |
|---|---|---|---|---|---|---|
| ALTITUDE | 500′ | 790′ | 1090′ | 1390′ | 1680′ | 1980′ |

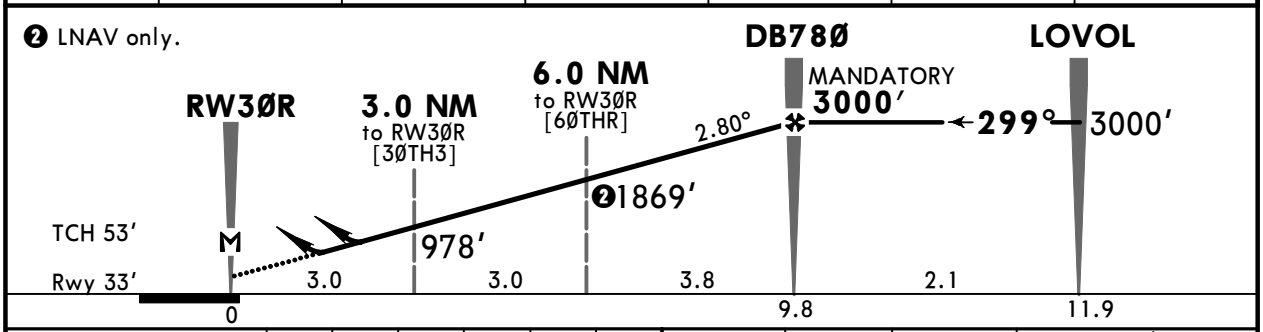


| Gnd speed-Kts | 70 | 90 | 100 | 120 | 140 | 160 |
|---|---|---|---|---|---|---|
| Glide Path Angle 2.80° | 347 | 446 | 495 | 594 | 693 | 792 |
| | | | | | | |
| MAP at RW3ØR | | | | | | |

HIALS-II
REIL PAPI PAPI

D → DB755 | DB756 on 314°

**Std/State** STRAIGHT-IN LANDING

| | LNAV/VNAV | | LNAV | |
|---|---|---|---|---|
| | Missed apch climb gradient MIN 4.52% | | Missed apch climb gradient MIN 4.5% | |
| | A: 350′(317′) C: 370′(337′) | | CDFA | |
| | DA(H) B: 360′(327′) DDL: 380′(347′) | | ❷ DA/MDA(H) 510′(477′) | |
| | | ALS out | | ALS out |
| A | ❶R750m | R1400m | R1500m | |
| B | R800m | R1500m | | |
| C | | | R1500m | R2200m |
| D | R900m | R1600m | | |
| DL | | | | |

PANS OPS

❶ With TDZ & CL & HUD: R700m. ❷ VNAV DA(H) in lieu of MDA(H) depends on operator policy.

CHANGES: Missed appraoch distances, minimums.

© JEPPESEN, 2012, 2025. ALL RIGHTS RESERVED.

Printed from JeppView for Windows 5.3.0.0 on 04 Oct 2025; Terminal chart data cycle 12-2025 (Expired); Notice: After 19 Jun 2025, 0000Z, this chart may no longer be valid

# OMDB/DXB
## DUBAI INTL

JEPPESEN

11 APR 25 (19-10) Eff 17 Apr

# DUBAI, UAE VFR

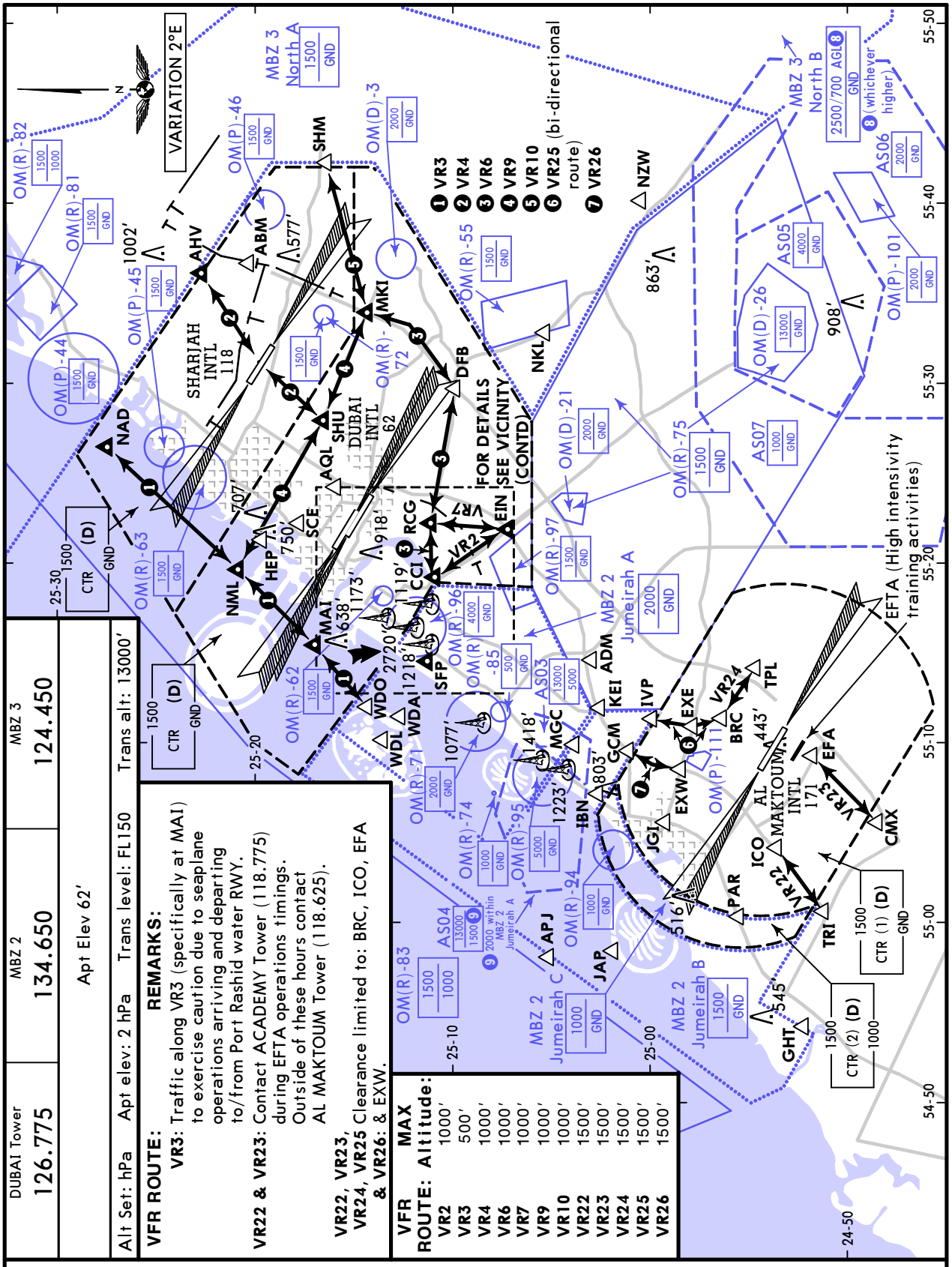


## DEFINITION:

| VRP: | | |
|---|---|---|
| ABM | N25 20.3 | E055 36.7 |
| ADM | N25 03.0 | E055 14.6 |
| AHV | N25 22.7 | E055 36.2 |
| APJ | N25 05.2 | E054 58.1 |
| AQL | N25 15.9 | E055 24.3 |
| BRC | N24 56.4 | E055 11.4 |
| CCI | N25 10.8 | E055 19.2 |
| CMX | N24 48.5 | E055 05.6 |
| DFB | N25 09.9 | E055 29.7 |
| EFA | N24 51.8 | E055 09.3 |
| EIN | N25 07.2 | E055 21.9 |
| EXE | N24 57.9 | E055 10.9 |
| EXW | N24 58.5 | E055 08.5 |
| GCM | N25 01.2 | E055 09.6 |
| GHT | N24 52.3 | E054 54.2 |
| HEP | N25 19.7 | E055 21.3 |
| IBN | N25 02.7 | E055 07.2 |
| ICO | N24 53.6 | E055 04.2 |
| IVP | N25 00.0 | E055 11.3 |
| JAP | N25 01.9 | E054 58.4 |
| JGI | N24 59.3 | E055 05.6 |
| KEI | N25 02.6 | E055 12.0 |
| MAI | N25 17.0 | E055 15.5 |
| MGC | N25 03.9 | E055 10.0 |
| MKI | N25 14.3 | E055 34.0 |
| NAD | N25 27.5 | E055 26.5 |
| NKL | N25 05.4 | E055 32.8 |
| NML | N25 20.8 | E055 19.6 |
| NZW | N25 00.5 | E055 40.1 |
| PAR | N24 55.5 | E055 00.3 |
| RCG | N25 11.1 | E055 22.2 |
| SCE | N25 17.8 | E055 22.3 |
| SFP | N25 11.3 | E055 14.5 |
| SHM | N25 16.4 | E055 42.3 |
| SHU | N25 16.6 | E055 28.0 |
| TPL | N24 54.7 | E055 14.2 |
| TRI | N24 51.3 | E055 00.6 |
| WDA | N25 12.7 | E055 11.5 |
| WDL | N25 13.6 | E055 10.2 |
| WDO | N25 14.4 | E055 12.0 |

CHANGES: OM(D)-10 withdrawn.

© JEPPESEN, 2012, 2025. ALL RIGHTS RESERVED.

Printed from JeppView for Windows 5.3.0.0 on 04 Oct 2025; Terminal chart data cycle 12-2025 (Expired); Notice: After 19 Jun 2025, 0000Z, this chart may no longer be valid



| DUBAI Tower | MBZ 2 |
|---|---|
| 126.775 | 134.650 |

Apt Elev 62′

Alt Set: hPa | Apt elev: 2 hPa | Trans level: FL150 | Trans alt: 13000′

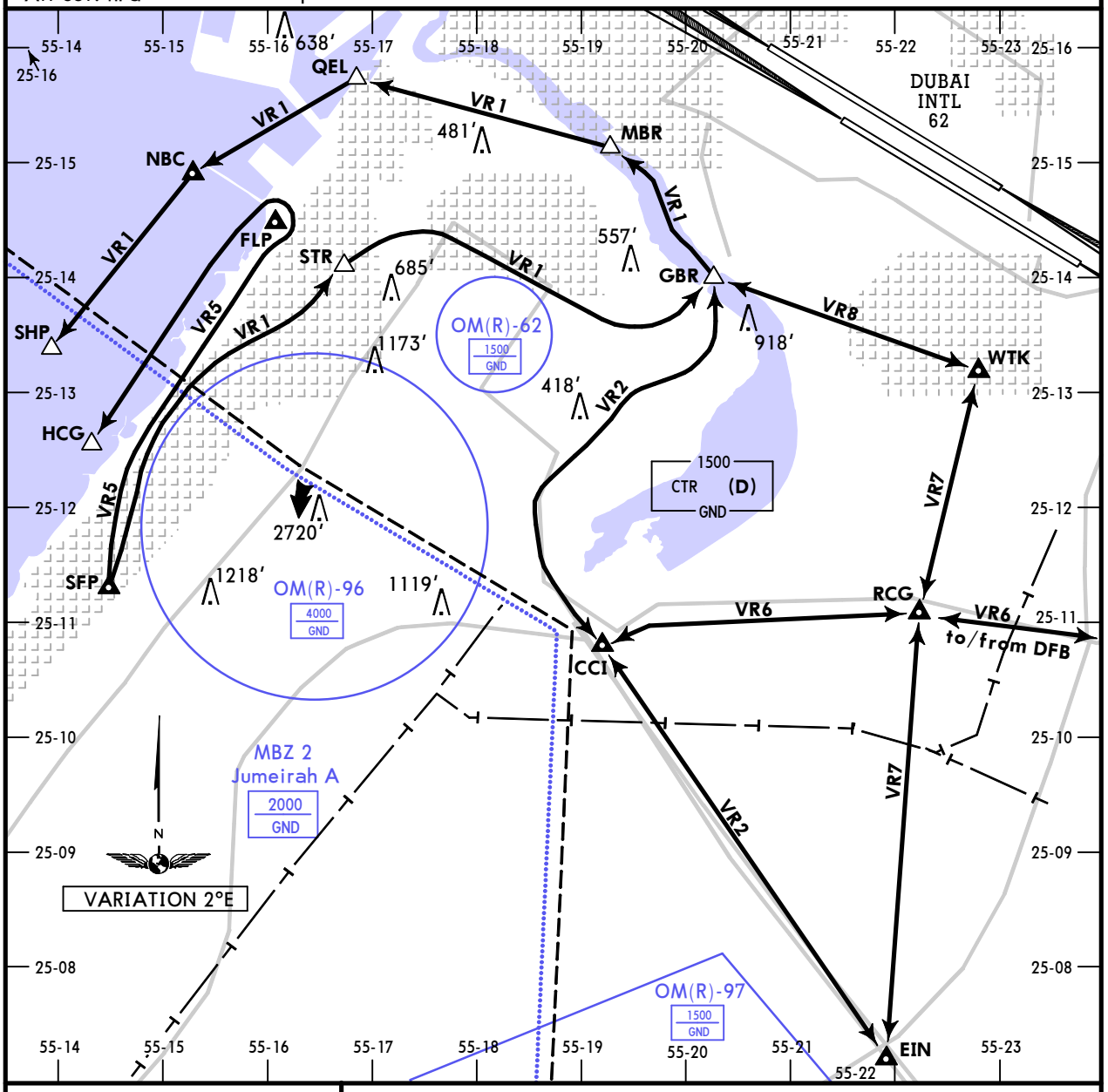


| VRP: | DEFINITION: | |
|---|---|---|
| CCI | N25 10.8 | E055 19.2 |
| EIN | N25 07.2 | E055 21.9 |
| FLP | N25 14.5 | E055 16.1 |
| GBR | N25 14.0 | E055 20.3 |
| HCG | N25 12.6 | E055 14.3 |
| MBR | N25 15.1 | E055 19.3 |
| NBC | N25 14.9 | E055 15.3 |
| QEL | N25 15.7 | E055 16.8 |
| RCG | N25 11.1 | E055 22.2 |
| SFP | N25 11.3 | E055 14.5 |
| SHP | N25 13.4 | E055 13.9 |
| STR | N25 14.1 | E055 16.7 |
| WTK | N25 13.2 | E055 22.8 |

| VFR ROUTE: | MAX Altitude: | REMARKS: |
|---|---|---|
| VR1 | 1000′ (1500′ between NBC and SHP) | Opposite direction traffic may be expected along VR1 between SHP-NBC-QEL-MBR-GBR due to seaplane operations arriving and departing to/from Creek and Port Rashid water runways<br>Caution: Drone activity on segments STR-GBR, MBR-QEL and QEL-NBC from GND to 400′ AGL. Exercise vigilance when operating within these segments. |
| VR2 | 1000′ | Traffic transiting OM(R)-75 shall at VRP EIN contact MINHAD App (122.5) for approval. |
| VR5 | 1000′ (1500′ between FLP and HCG) | Do not climb to 1500′ until established Southbound. |
| VR6 | 1000′ | For segments between RCG, DFB, MKI see 19-10. |
| VR7 | 1000′ | Traffic transiting OM(R)-75 shall at VRP EIN contact MINHAD App (122.5) for approval. DUBAI Tower may request to hold at WTK. |
| VR8 | 1000′ | DUBAI Tower may request to hold at WTK. |

CHANGES: None.

© JEPPESEN, 2018, 2025. ALL RIGHTS RESERVED.